Register Screen:

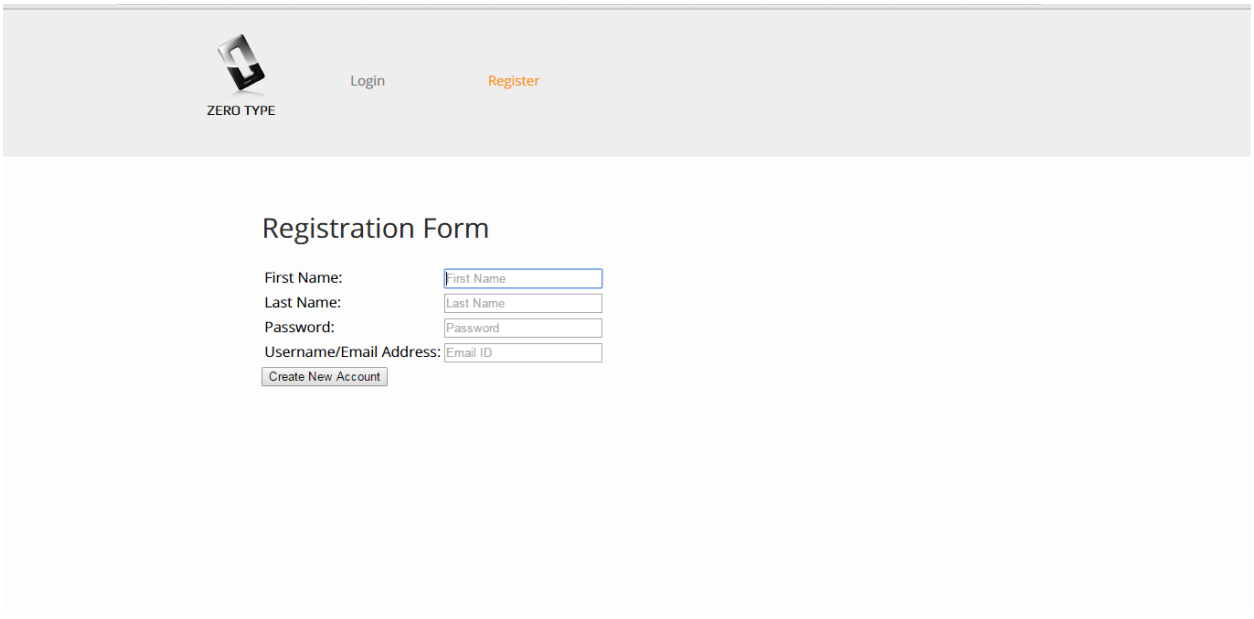

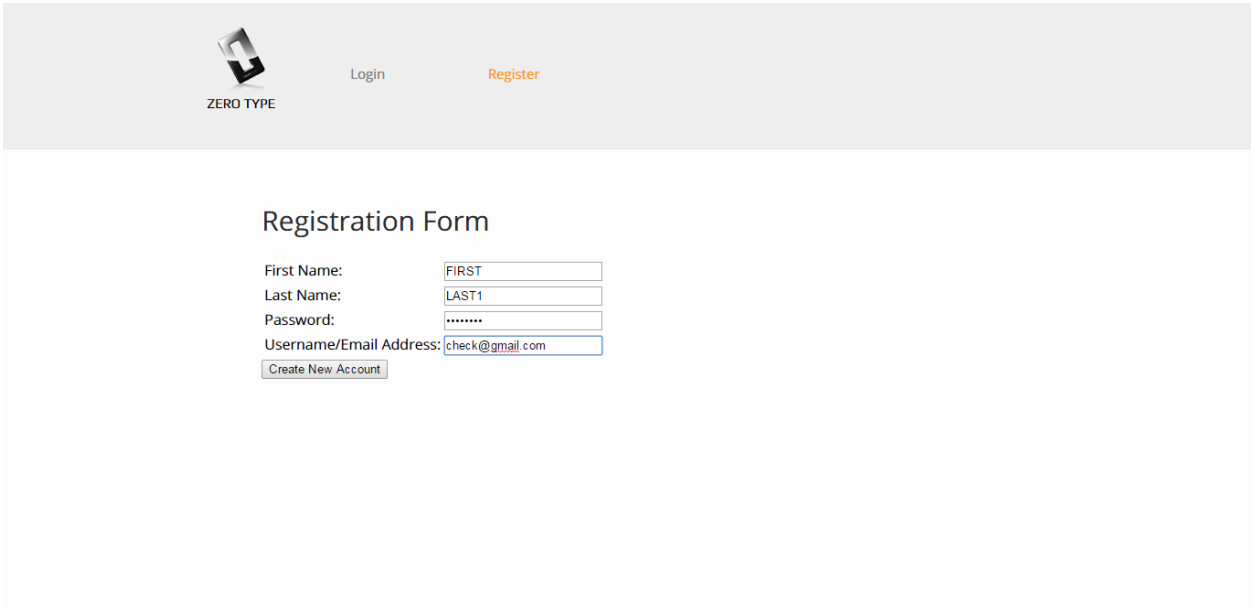

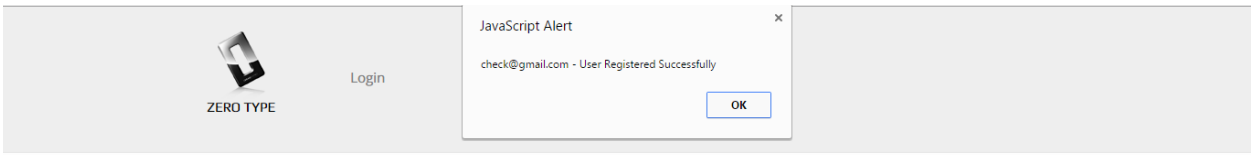

Registration Form

First Name: FIRST
Last Name: LAST1
Password: ••••••••
Username/Email Address: check@gmail.com
Create New Account



Login

Username/Email Address: Email ID
Password: Password
Login

Login Password Check:

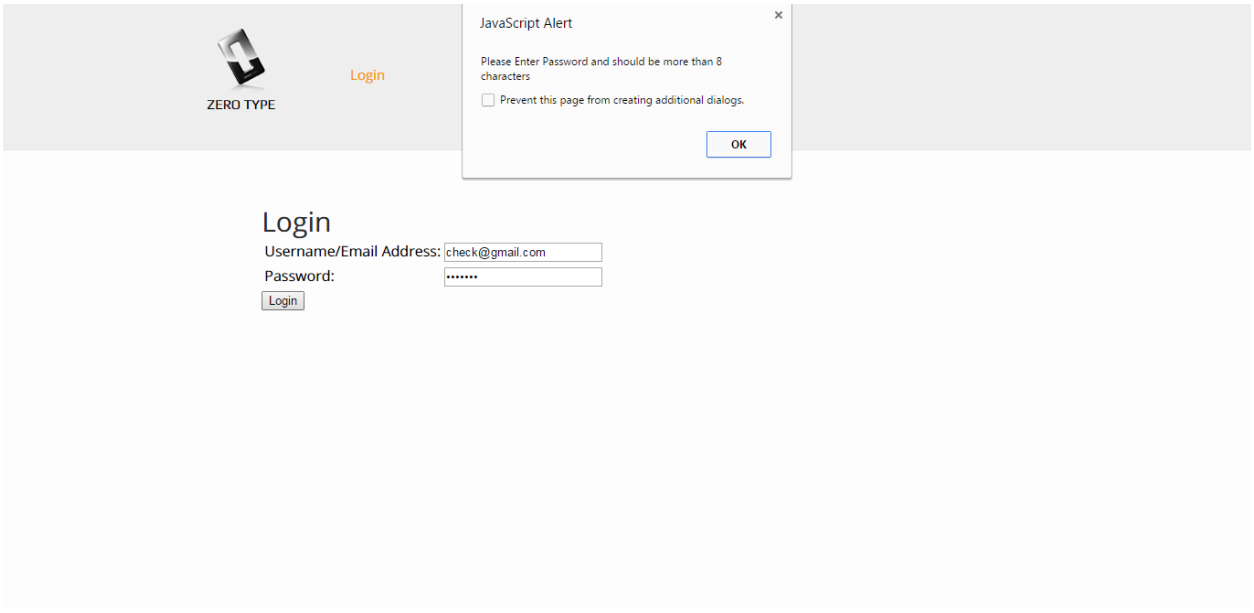

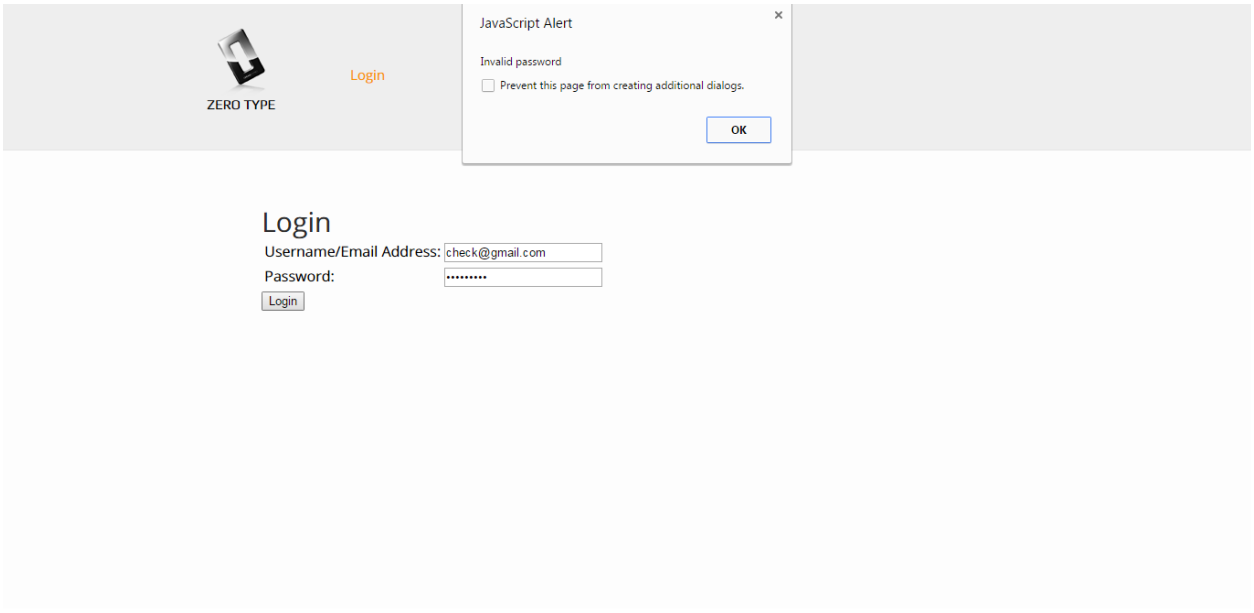

SuccessFul Login – Maps Page:

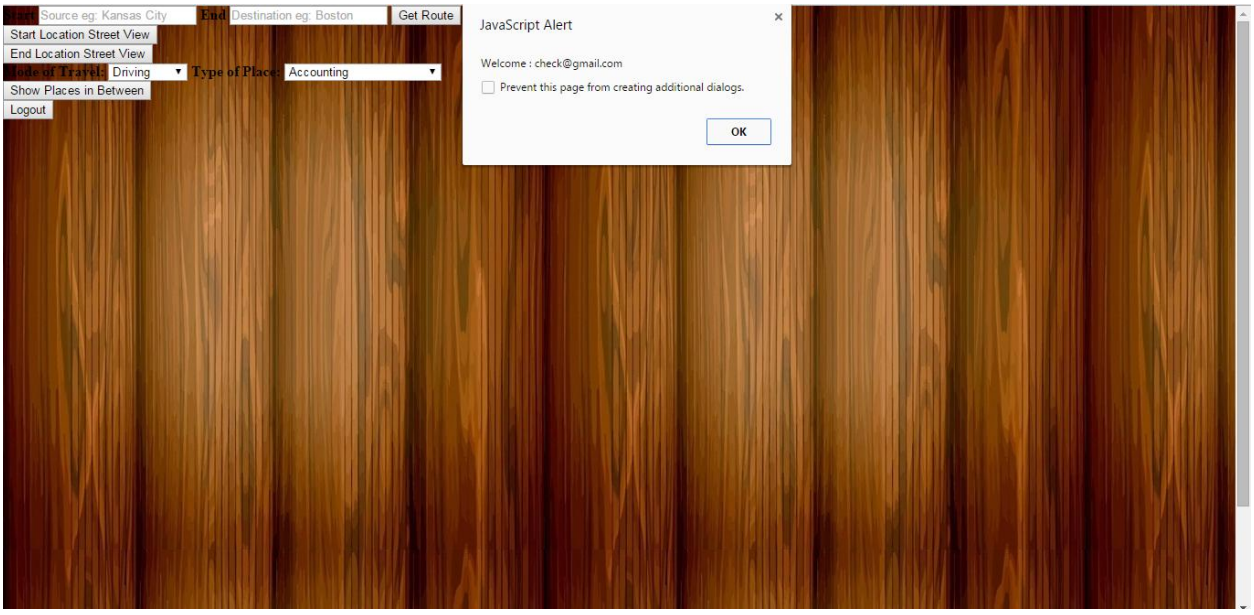

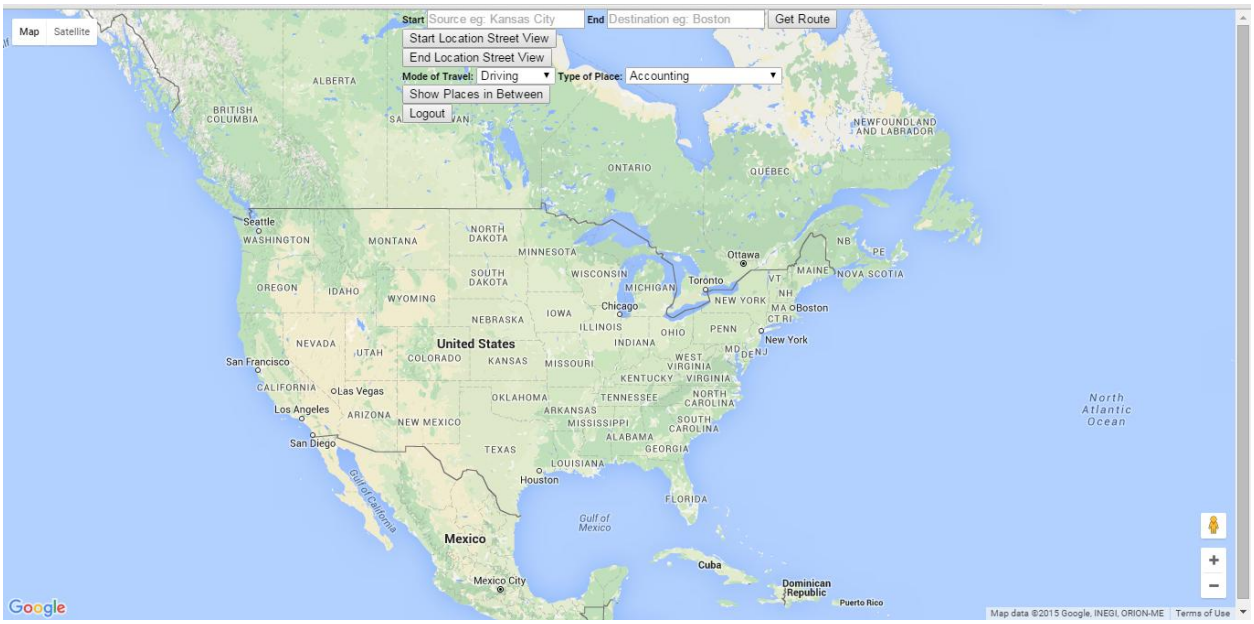

Getting Route:

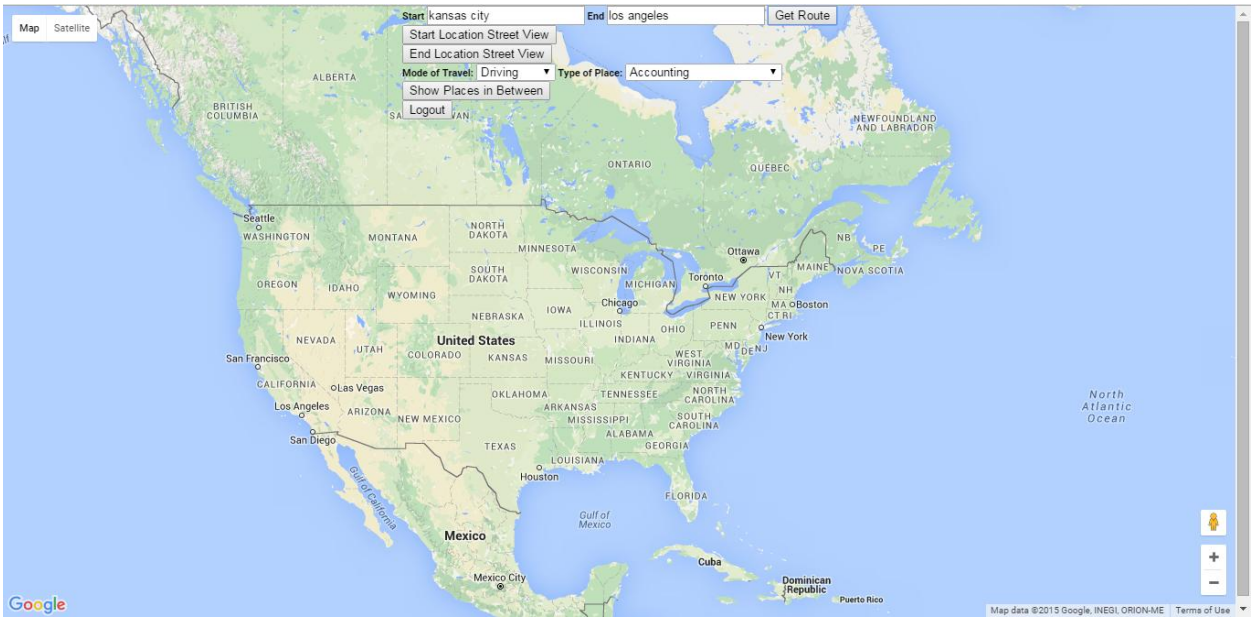

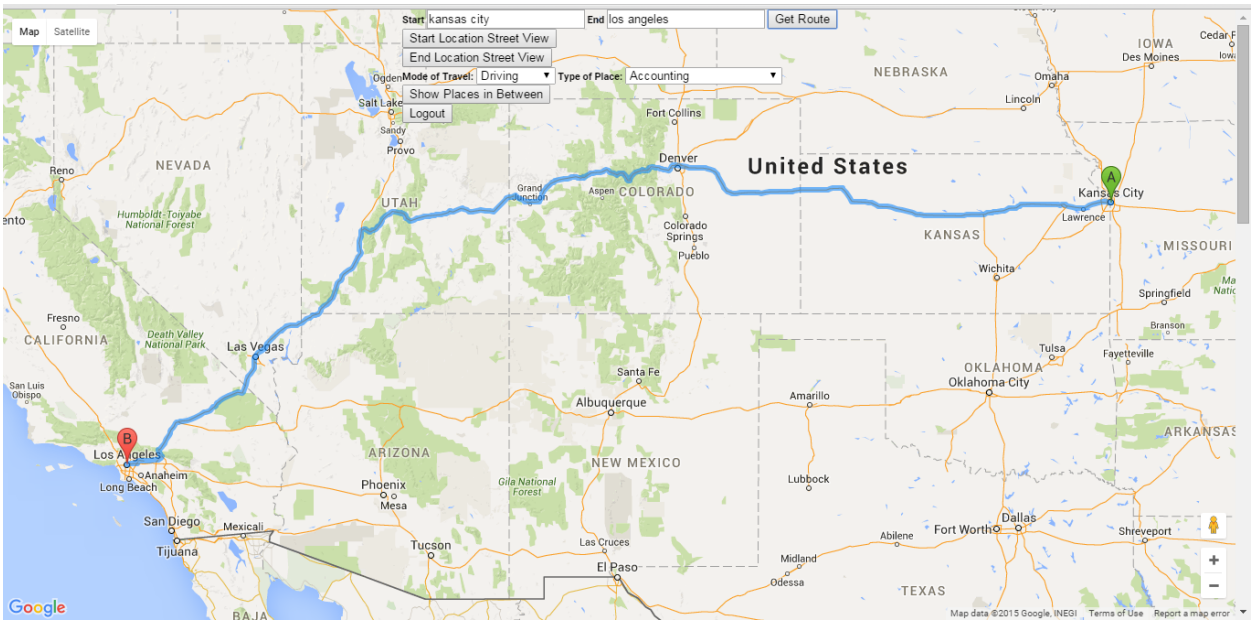

Start Location Street View:

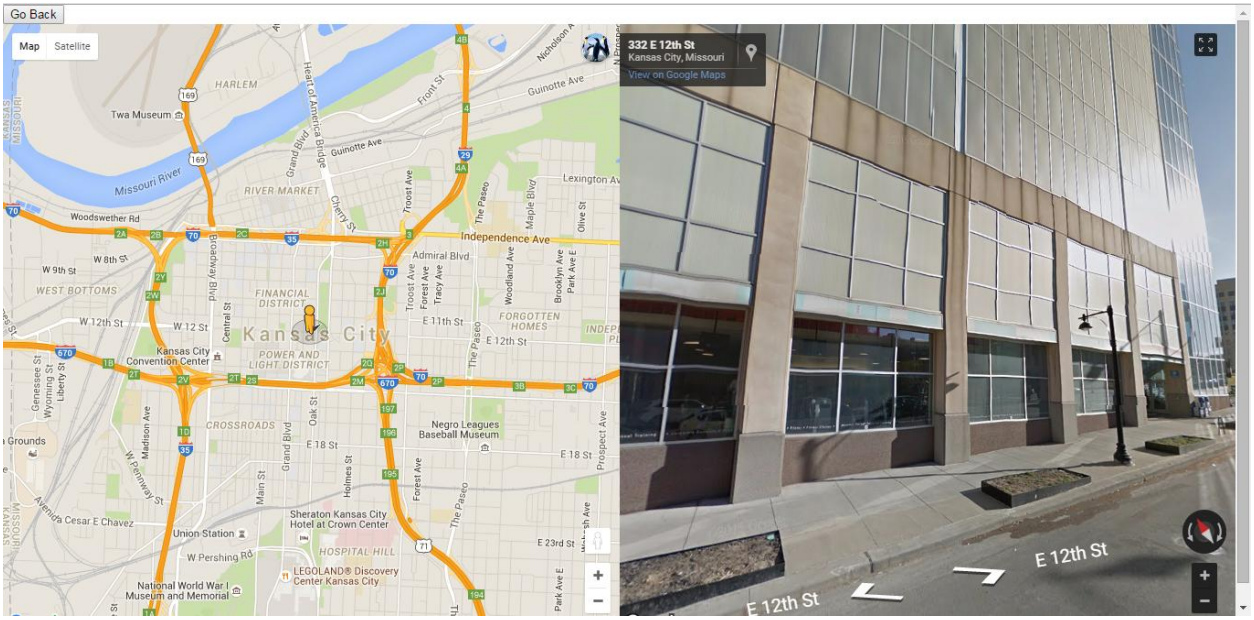

End Location Street View:

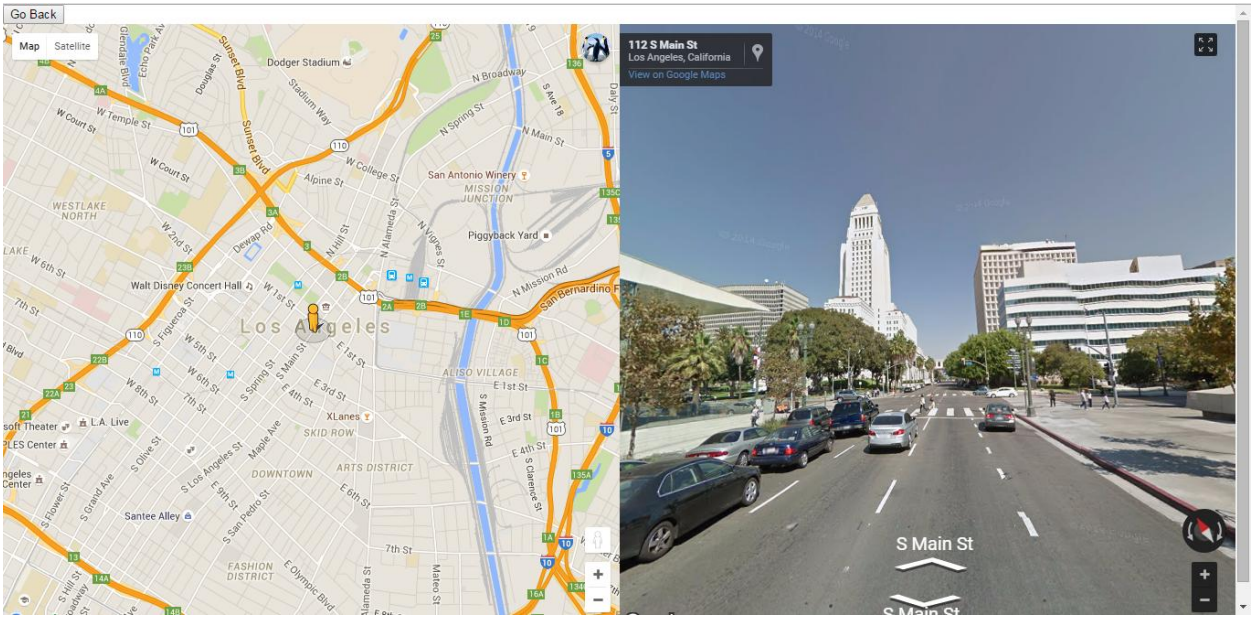

Modes of Driving:

Driving Mode:

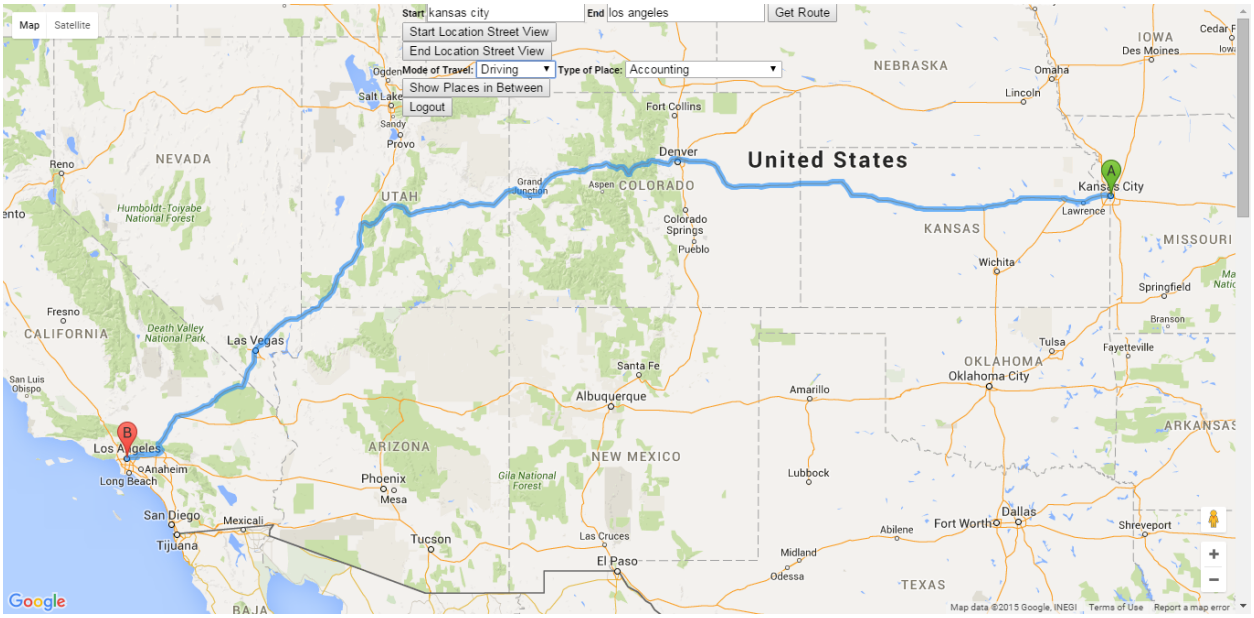

Walking Mode:

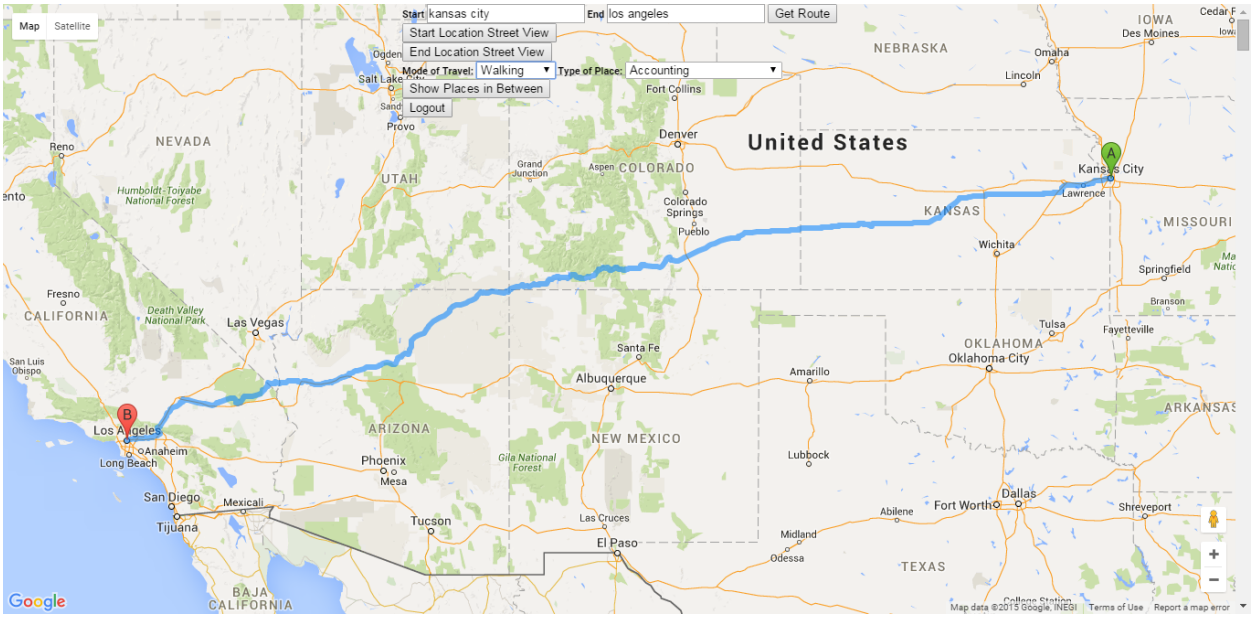

Transit Mode:

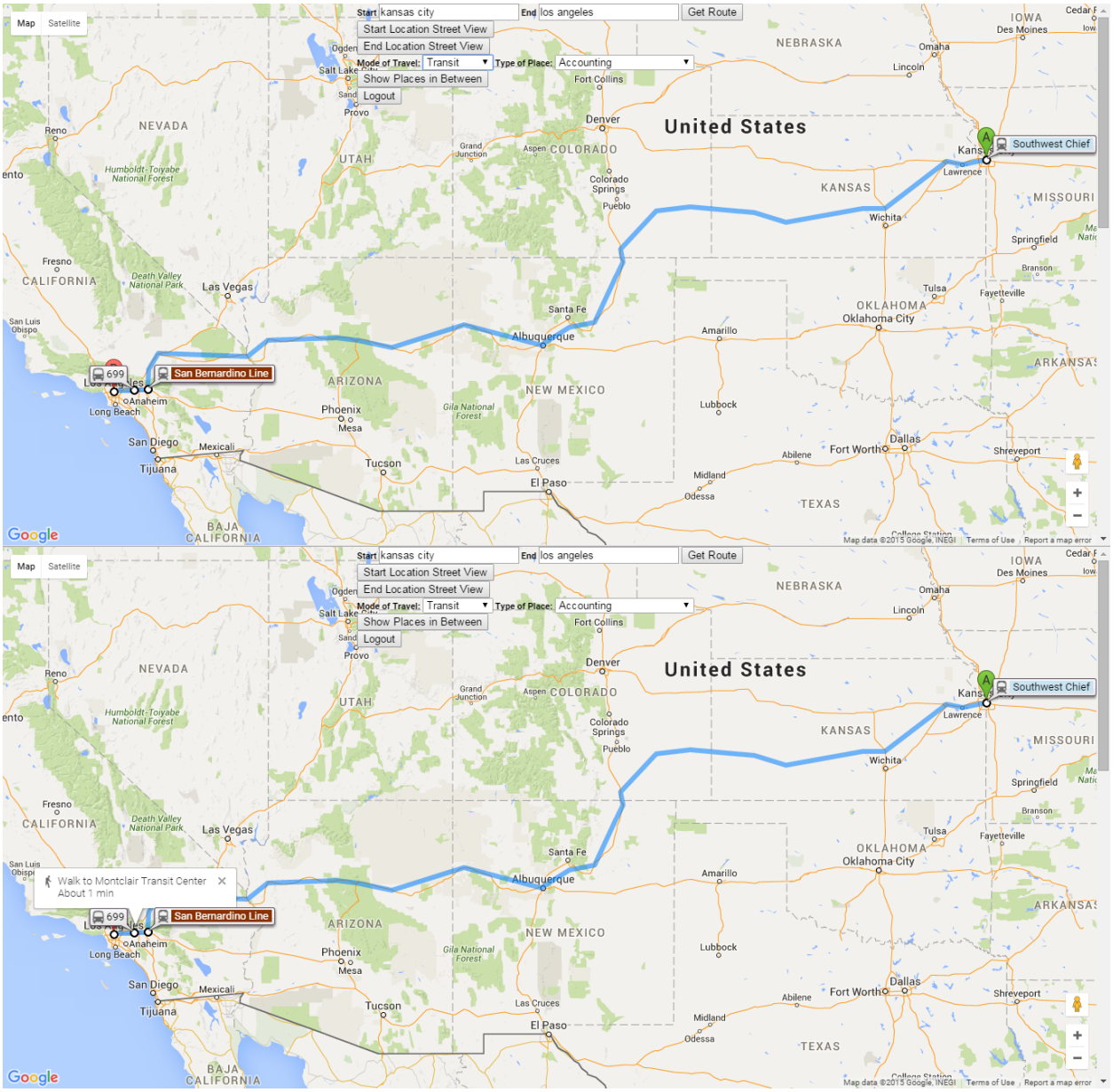

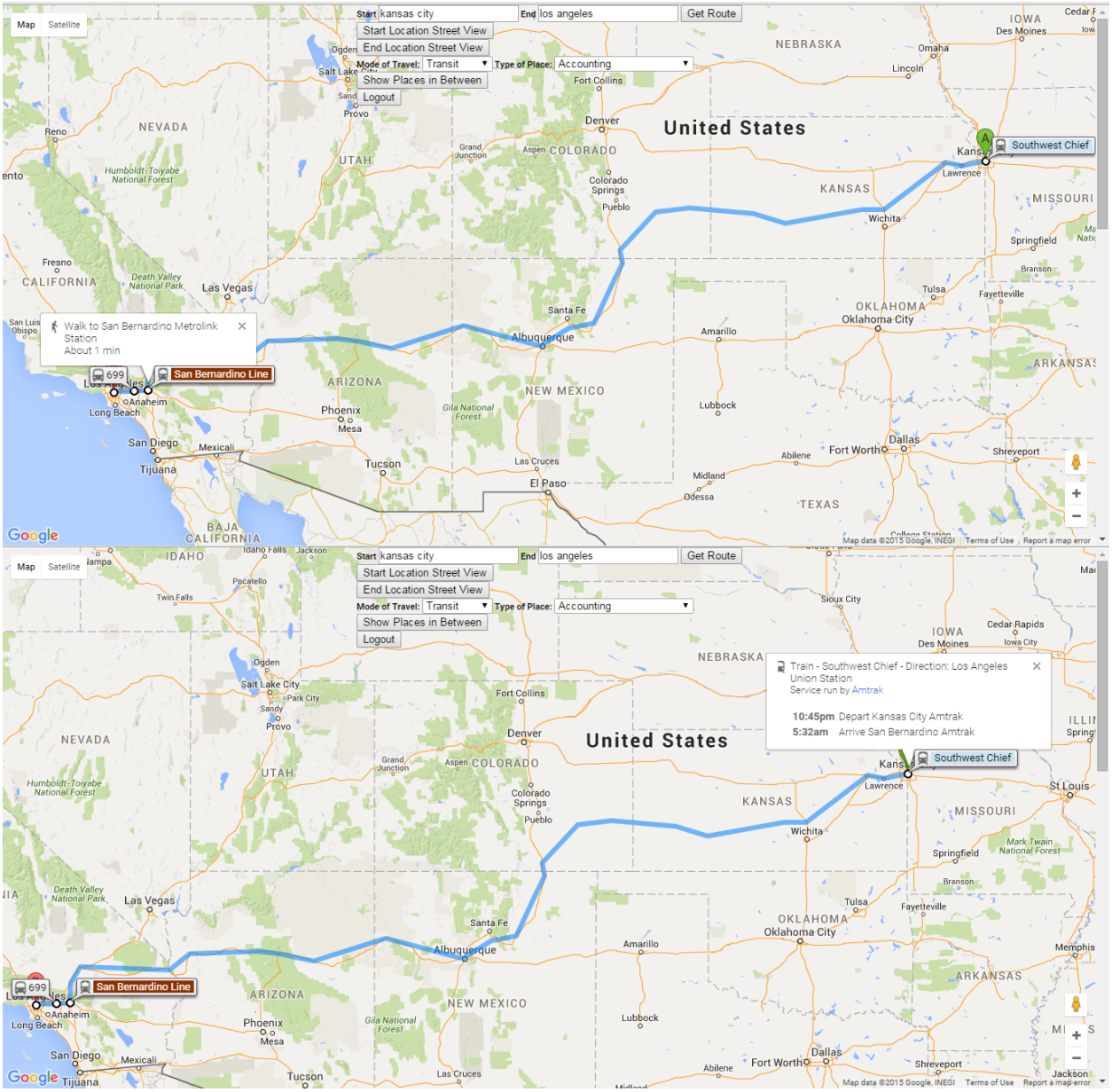
Map
Satellite
Start kansas city
End los angeles
Get Route
Start Location Street View
End Location Street View
Mode of Travel: Transit
Type of Place: Accounting
Show Places in Between
Logout
United States
Southwest Chief
Walk to San Bernardino Metrolink Station
About 1 min
699
San Bernardino Line
Train - Southwest Chief - Direction: Los Angeles Union Station
Service run by Amtrak
10:45pm Depart Kansas City Amtrak
5:32am Arrive San Bernardino Amtrak
Google
Map data ©2015 Google, INEGI
Terms of Use
Report a map error

Types of Places in between:

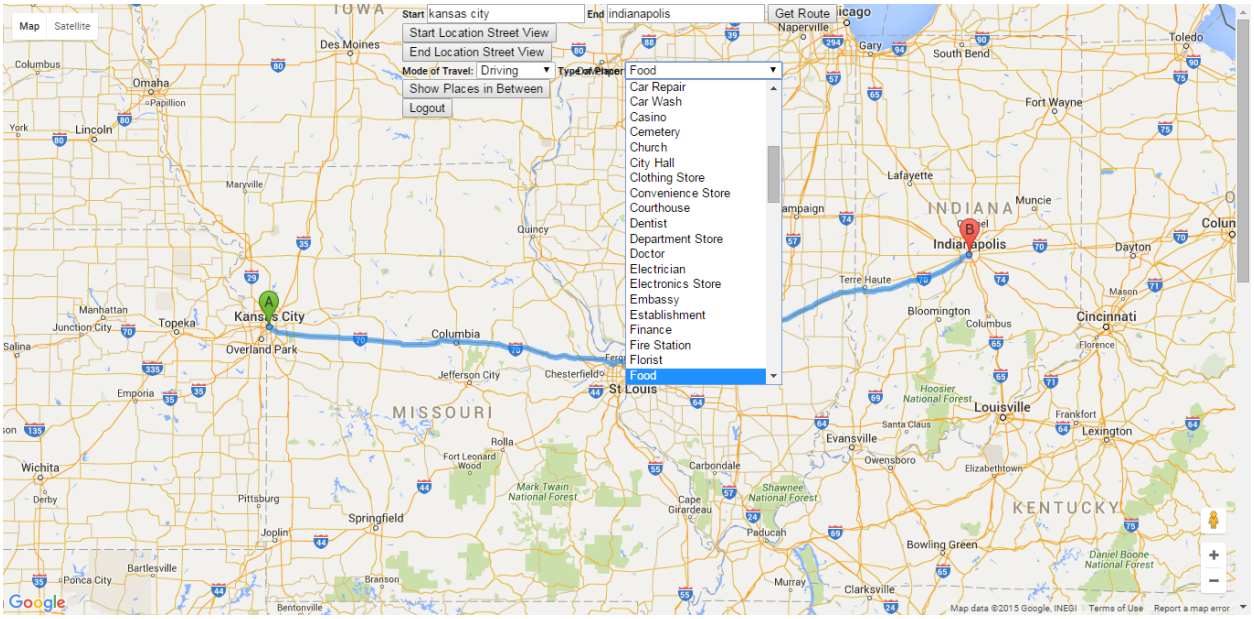

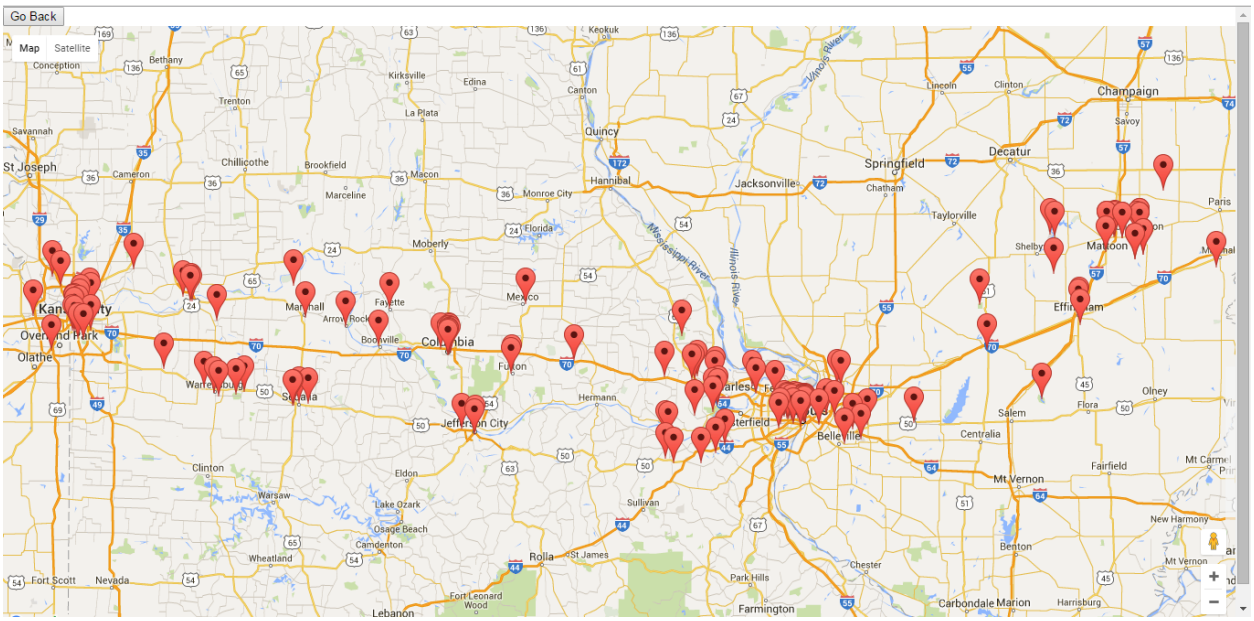

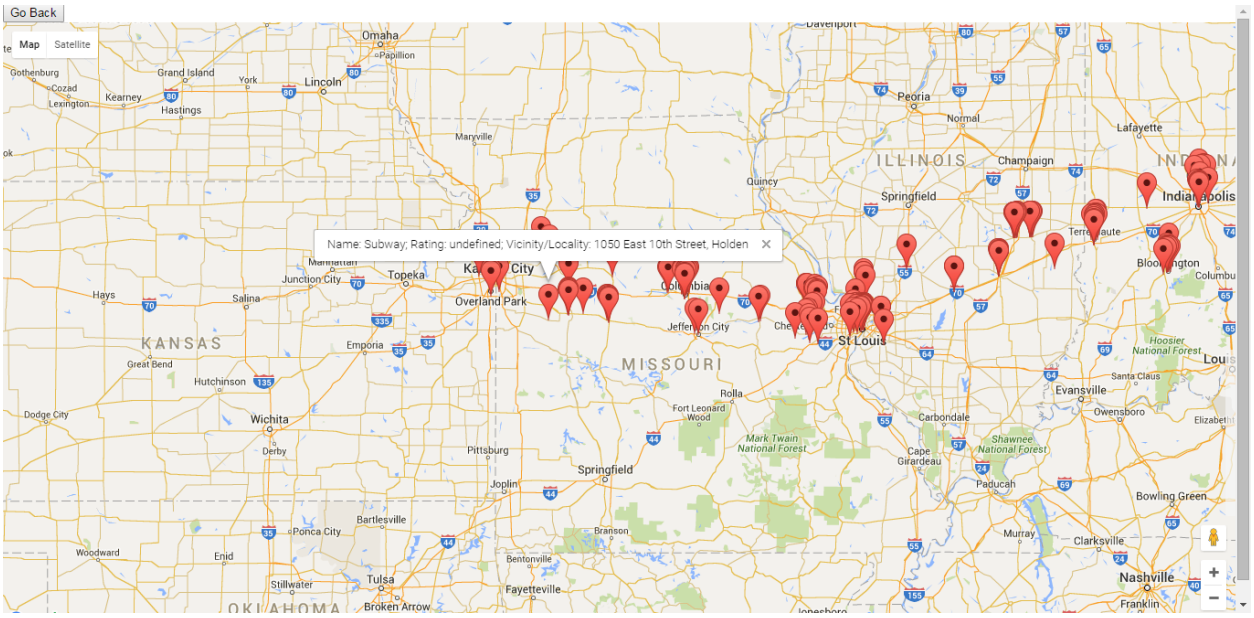
Go Back
Map
Satellite
Name: Subway; Rating: undefined; Vicinity/Locality: 1050 East 10th Street, Holden
Omaha
Papillion
Gothenburg
Cozad
Lexington
Kearney
Grand Island
Hastings
York
Lincoln
Maryville
Peoria
Normal
Lafayette
ILLINOIS
Champaign
Quincy
Springfield
Indianapolis
Terre Haute
Bloomington
Columbus
Topeka
Junction City
Hays
Salina
Overland Park
Jefferson City
St Louis
KANSAS
Emporia
Great Bend
Hutchinson
MISSOURI
Rolla
Fort Leonard Wood
Mark Twain National Forest
Hoosier National Forest
Santa Claus
Evansville
Owensboro
Elizabeth
Carbondale
Cape Girardeau
Shawnee National Forest
Paducah
Bowling Green
Murray
Clarksville
Nashville
Franklin
Dodge City
Wichita
Derby
Pittsburg
Joplin
Springfield
Bartlesville
Ponca City
Woodward
Enid
Stillwater
Tulsa
Broken Arrow
Bentonville
Fayetteville
Branson
OKLAHOMA

Logout:

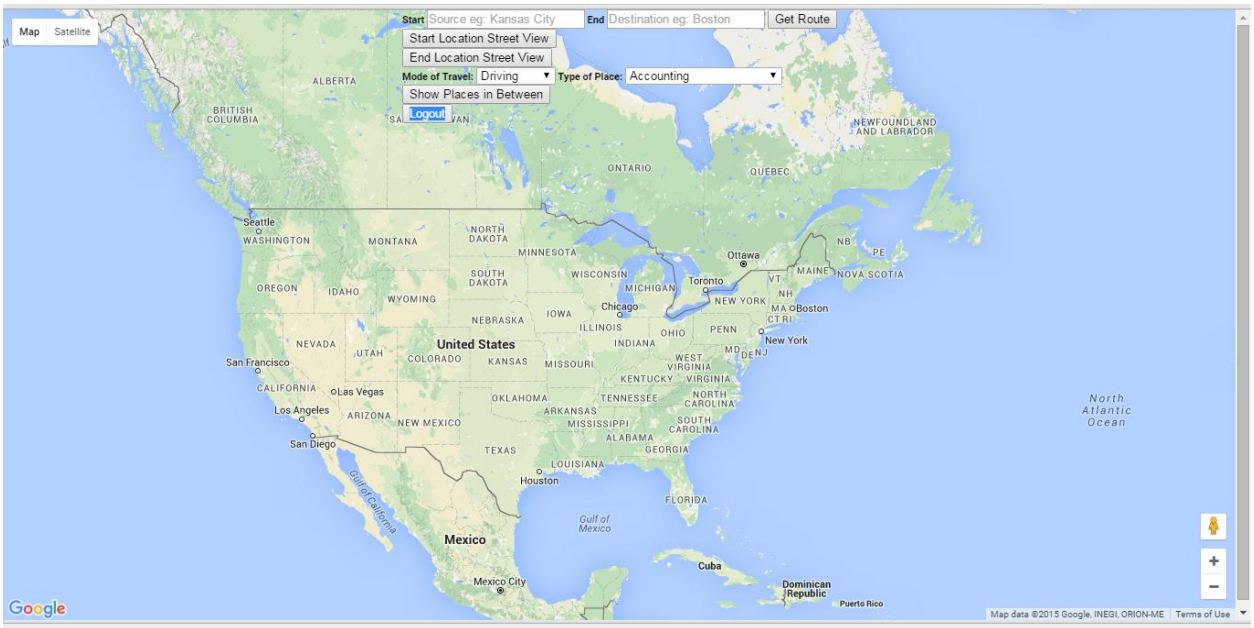

ZERO TYPE

Login

Register

Login

Username/Email Address: Email ID

Password: Password

Login

If user want to navigate back without login then he gets an error message like following:

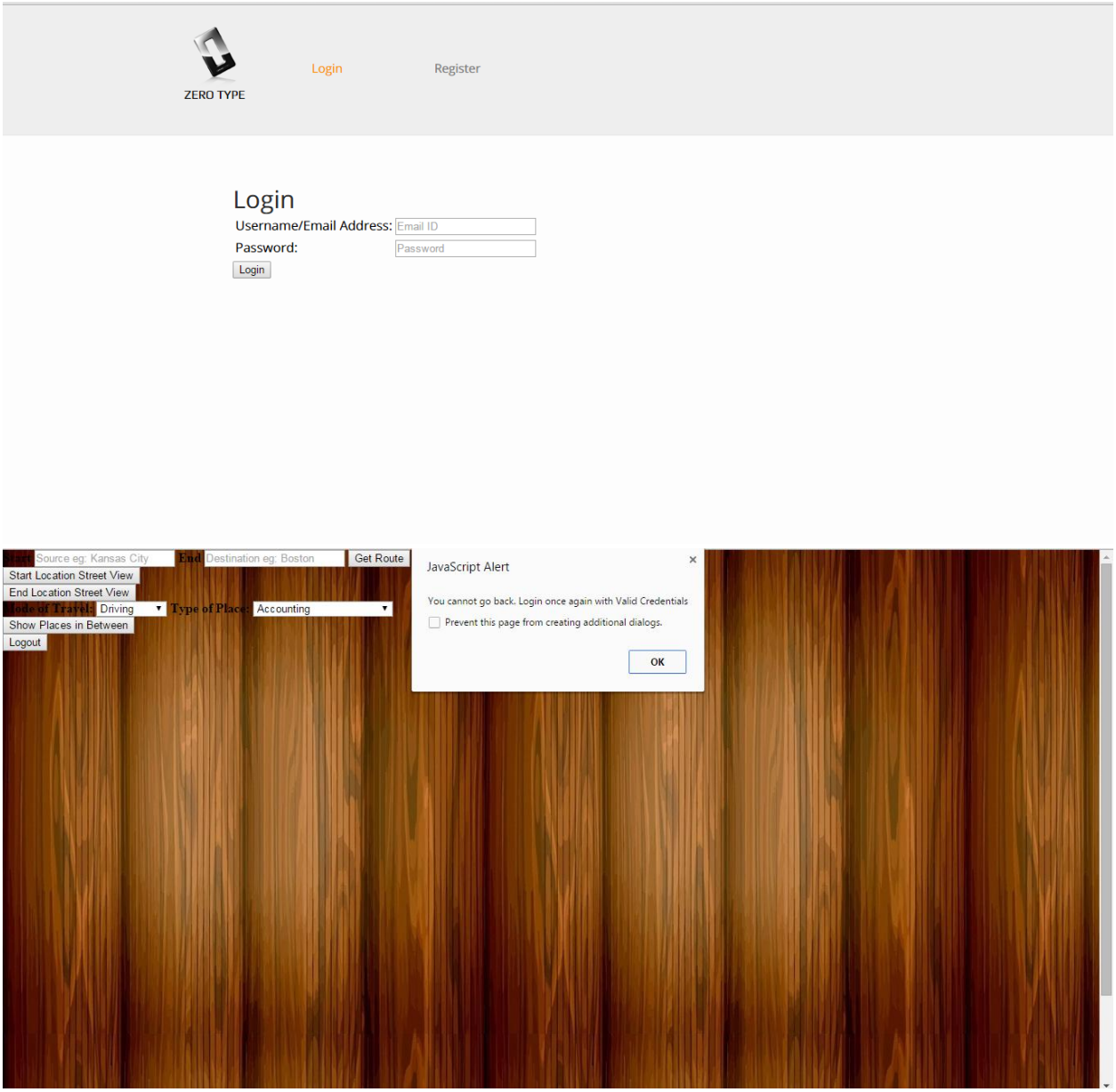
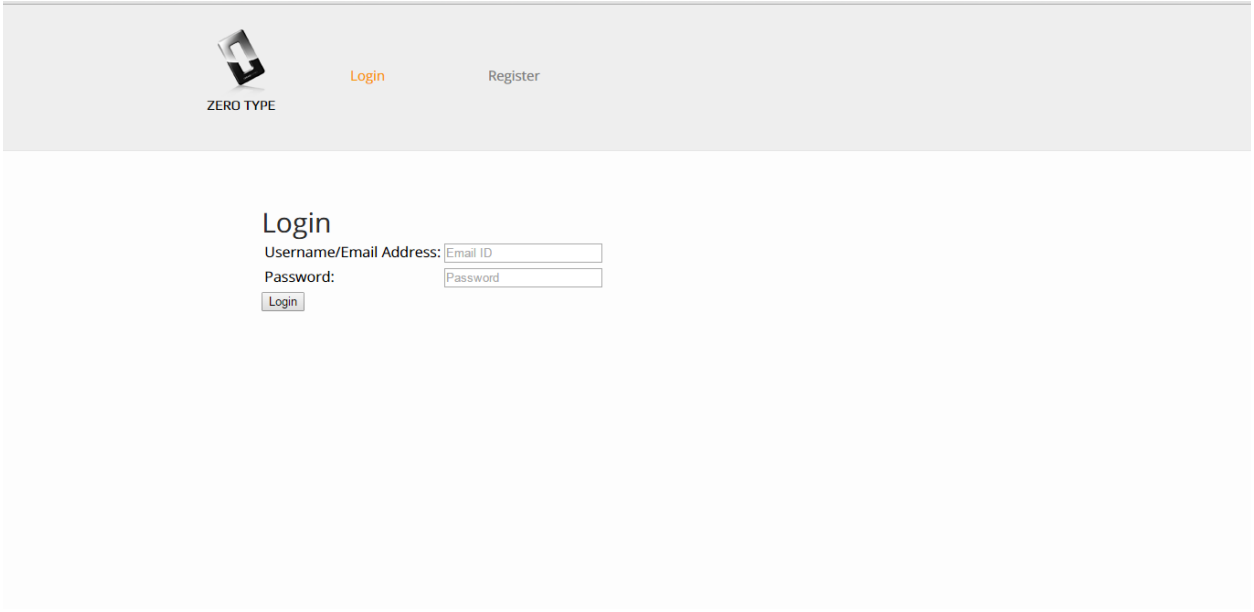
And taken back to Login Page